MC Fundamentals Task Sheet

Measure Mode

Learning Objective 2
Measure Mode 2

© 2018, Trimble Navigation Limited. All rights reserved. Trimble and the Globe & Triangle logo are trademarks of Trimble Navigation Limited registered in the United States and in other countries. All other trademarks are the property of their respective owners.

Learning Objective

At the end of this guide, you will be able to configure Measure Mode within Trimble Earthworks as well use it to measure example points created by your instructor.

Measure Mode

Measure mode enables you to measure the distance and slope between two points. After you place the attachment cutting edge over an initial point, the system then displays any deviation from this point in terms of horizontal reach, elevation and slope.

Note: The type of system you have and the mode you are in determines whether you can rotate the cab or move the machine tracks.

Mode	Can rotate the cab	Can move the machine tracks
Depth and Slope mode	No	No
Depth and slope mode, plus heading sensor	Yes	No
Design mode, plus two GNSS receivers	Yes	Yes

1. To access Measure Mode, Open the Trimble Earthworks application and select the Start button.

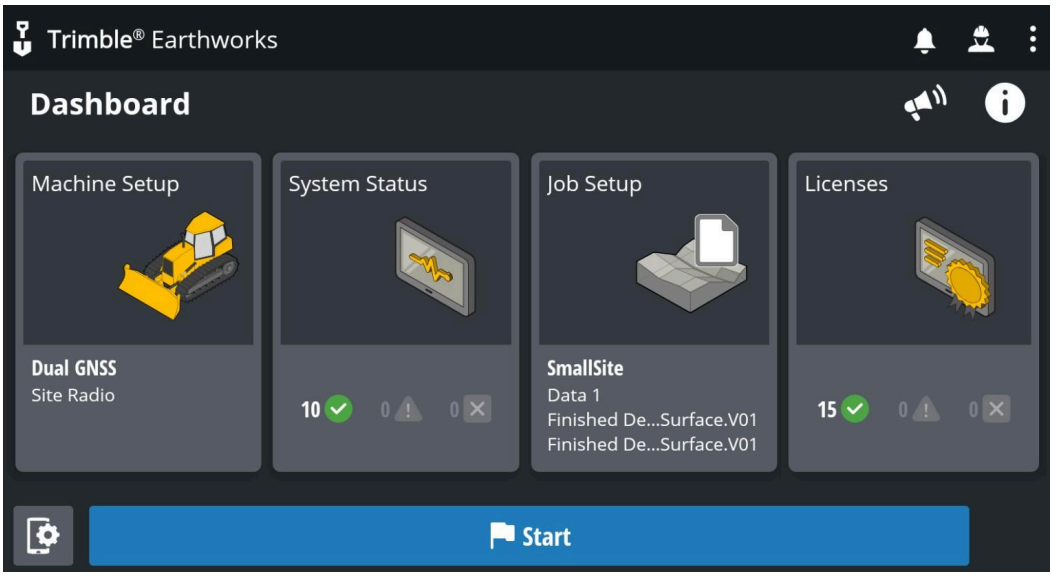

2. Once the run screen is loaded, navigate to the Work Settings menu and select Measure Mode

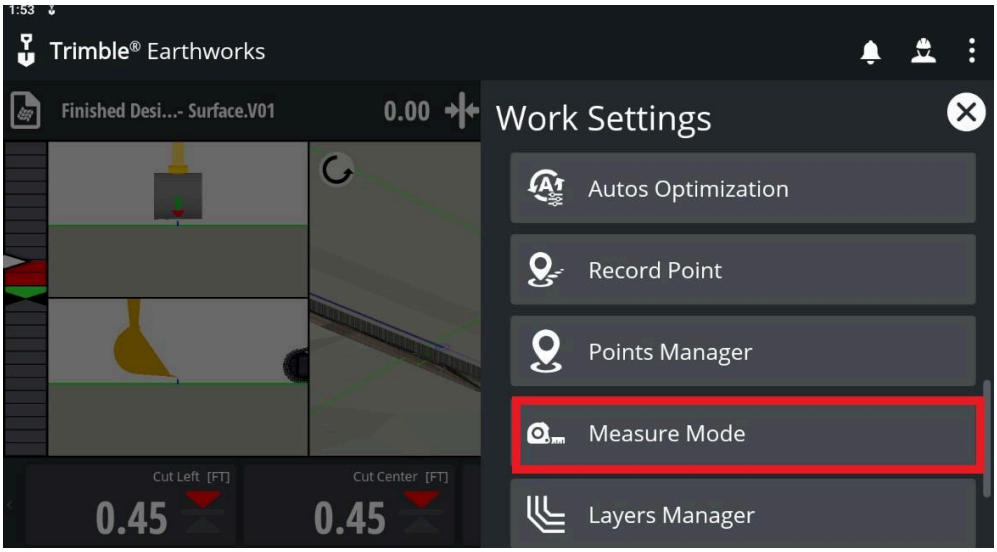

3. Trimble Earthworks will then open up the Measure Mode screen

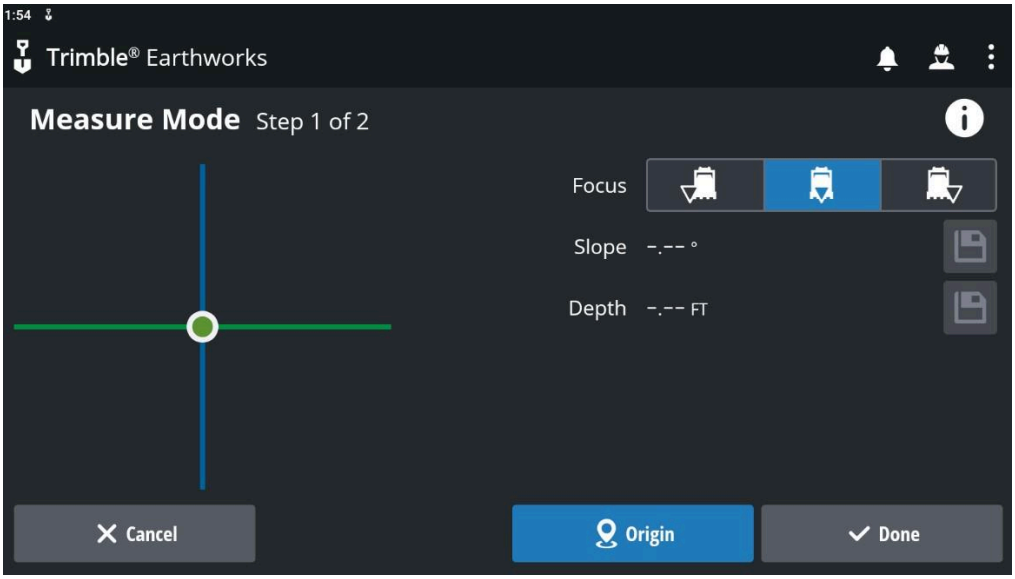

4. Check that the correct position of guidance focus has been selected for the attachment.
5. Place the attachment focus on the start point of the measurement.
6. Tap Set Origin.

If required, you can save the slope and depth values into the mainfall and offset memories.

7. Move the attachment focus to the end point of the measurement. Once the attachment has moved enough to give a measurable change in position, the screen updates to show the depth and slope measurement between the two points.

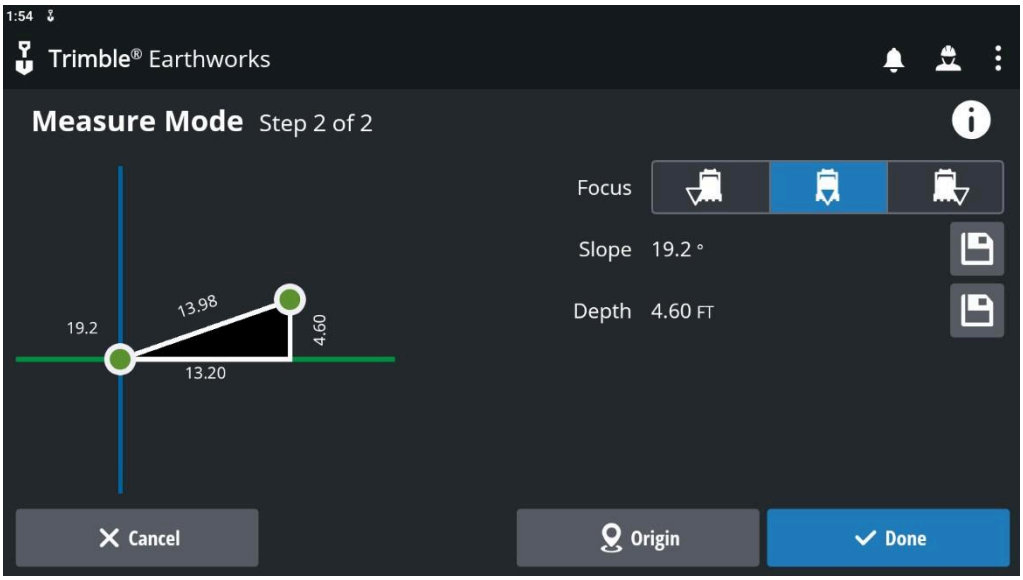

Using Measure Mode Data

Operators can save a slope or depth measured in this menu to Memories as they perform certain tasks. This could be used for layout purposes and would allow the operator to measure a terrain feature and save this slope or depth for future use.

While in the Measure mode Step 2 of 2 menu, select either of the save buttons next to the slope and depth values to save each of these values into memories. Slope and depth must be saved independently.

Slope will save the memory to the mainfall memories menu and depth will save to vertical offset memories.

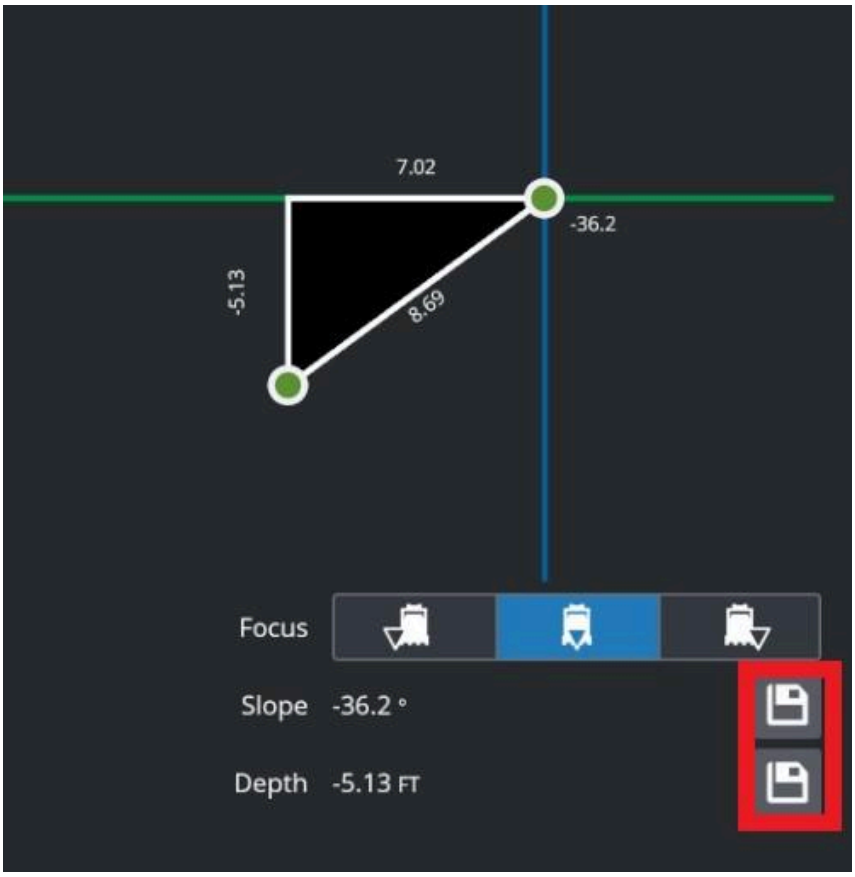

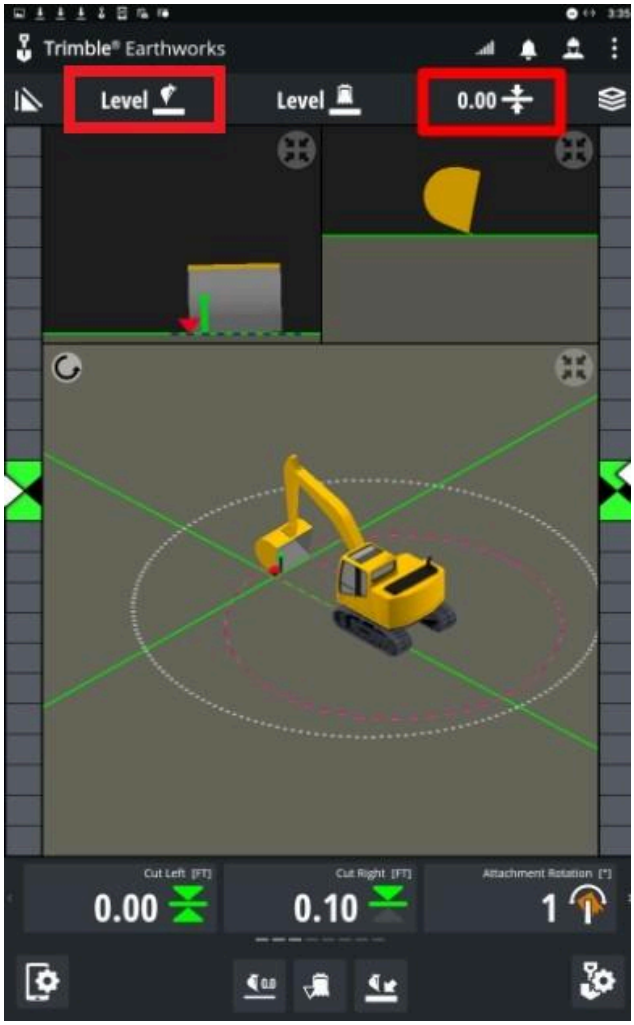

Depth Memories can be accessed by tapping the Elevation Offset button on the Work screen to cycle between memories. It can also be accessed by pressing and holding this button to select the desired memory.

Slope Memories are accessed by tapping on the Target Mainfall button on the Work Screen. If multiple memories are saved, the operator can cycle between them by continuing to tap. It can also be accessed by pressing and holding this button to select the desired memory.