MC Fundamentals Task Sheet

Excavator Operation

Point Collection

Learning Objective 2
Workflow Overview 2
Record Point 3
Review and Edit Point Information 6
Navigate to Point 7
Tips 8

© 2018, Trimble Navigation Limited. All rights reserved. Trimble and the Globe & Triangle logo are trademarks of Trimble Navigation Limited registered in the United States and in other countries. All other trademarks are the property of their respective owners.

Learning Objective

At the end of this guide, you will be able to record a series of points using 3D Excavator in Design Mode and identify where this data is available for use.

Workflow Overview

Machine Setup

1. From the Dashboard tap the Machine Setup Tile.
2. In the Positioning Source drop down menu select **2D**.
3. Tap Apply

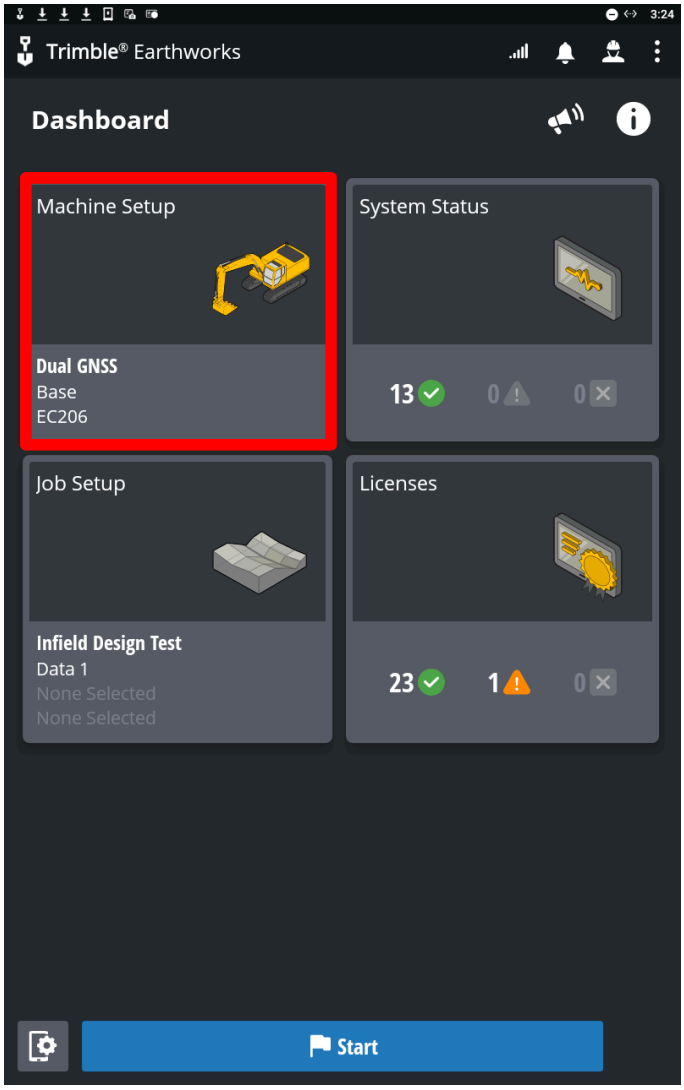

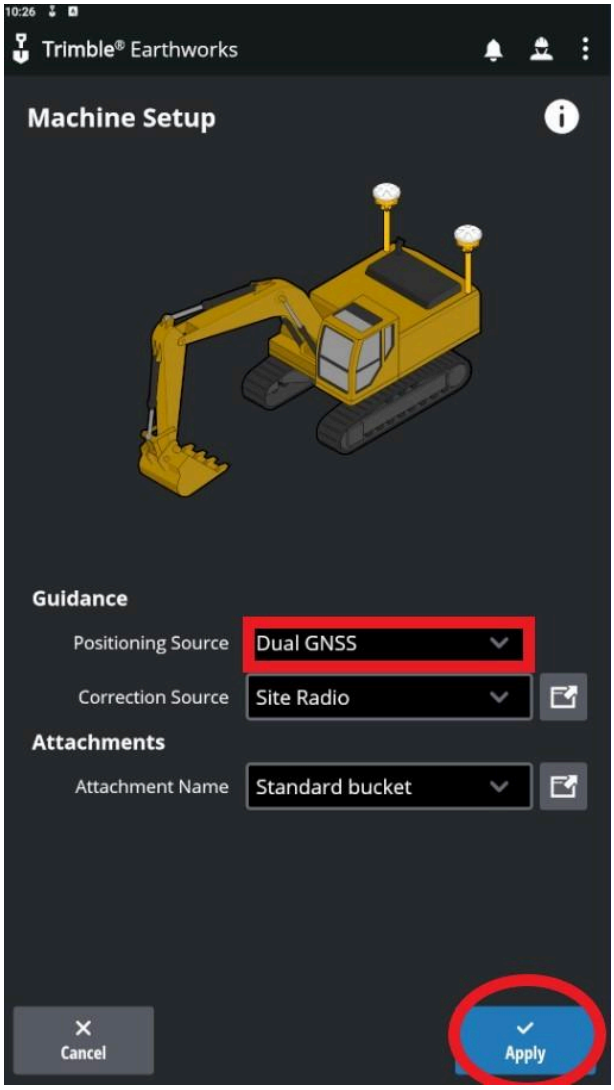

Before you are able to record a point, be sure to confirm the following:

- 3D Excavator is in Design Mode
- The correct design file has been selected

Once you have confirmed the above, apply the settings

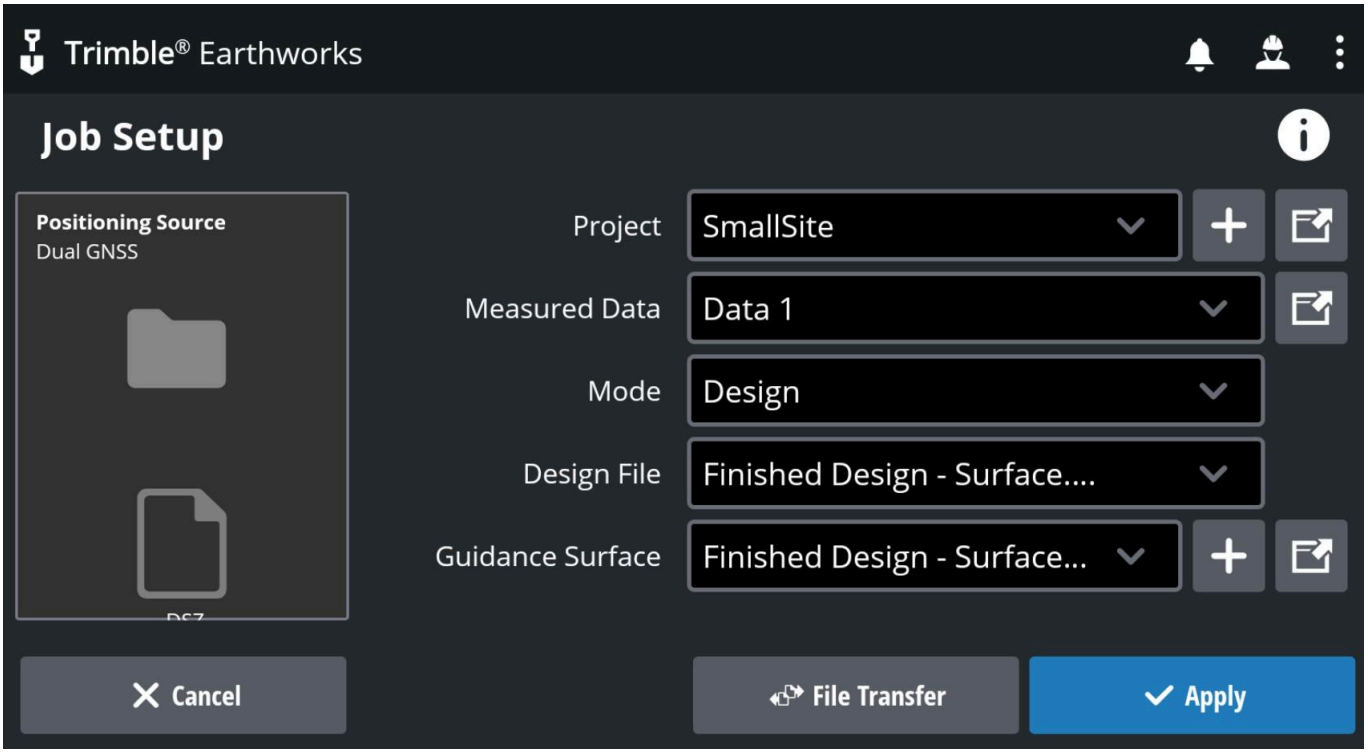

Record Point

1. In the Earthworks Dashboard, select the Start button to open the Work Screen

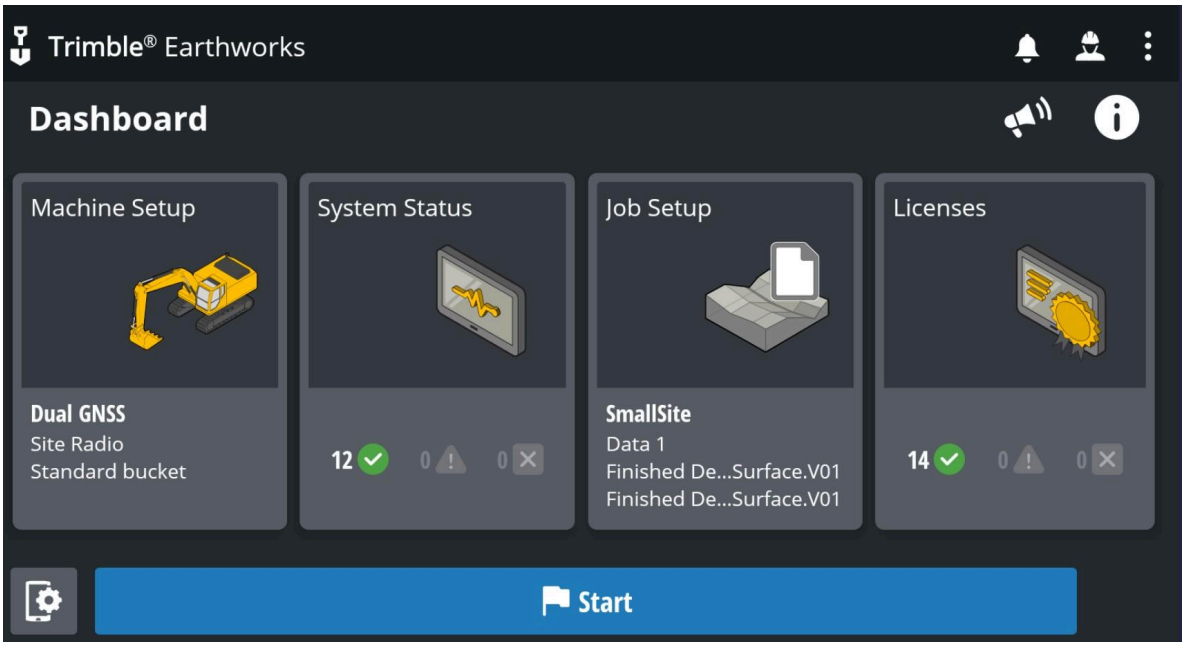

2. Move the bucket to the desired point, place the selected focus point on the location to be recorded, and tap the Record Point shortcut button. This will record a point and include the Northing, Easting, Elevation. The point will be displayed on the work screen by a colored flag as shown below.

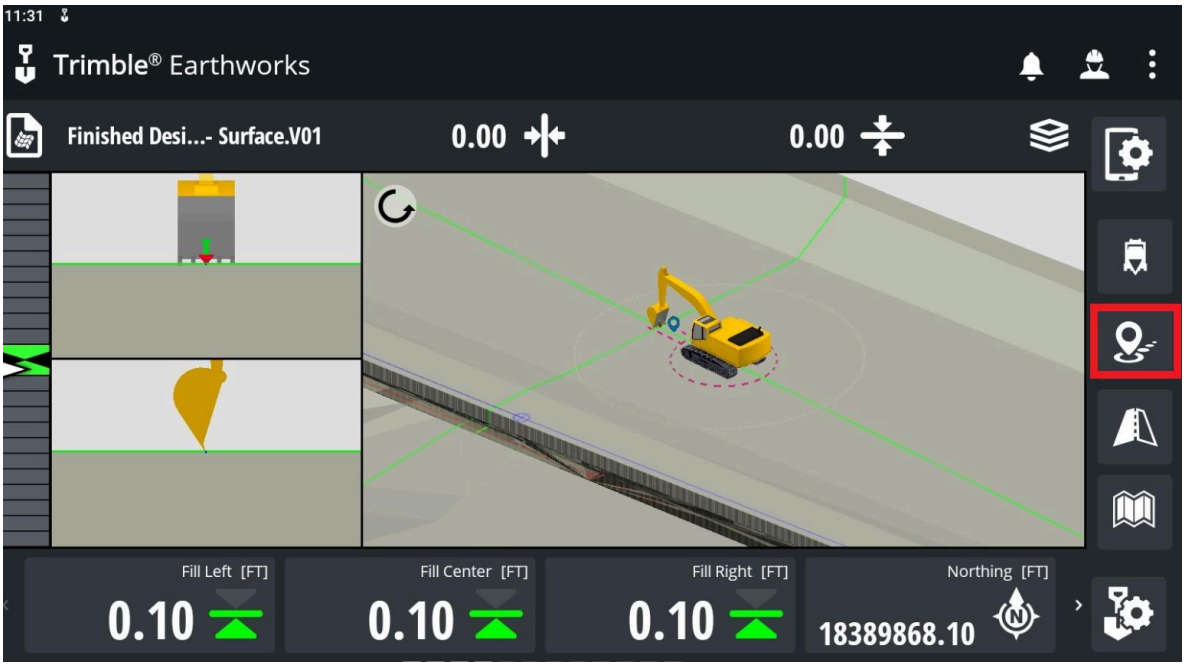

3. Points can also be recorded by accessing the Record Point screen via the Work Settings menu. It is possible to edit your point information by naming it and modify any other point information as desired.
4. Enter the Work Settings Menu

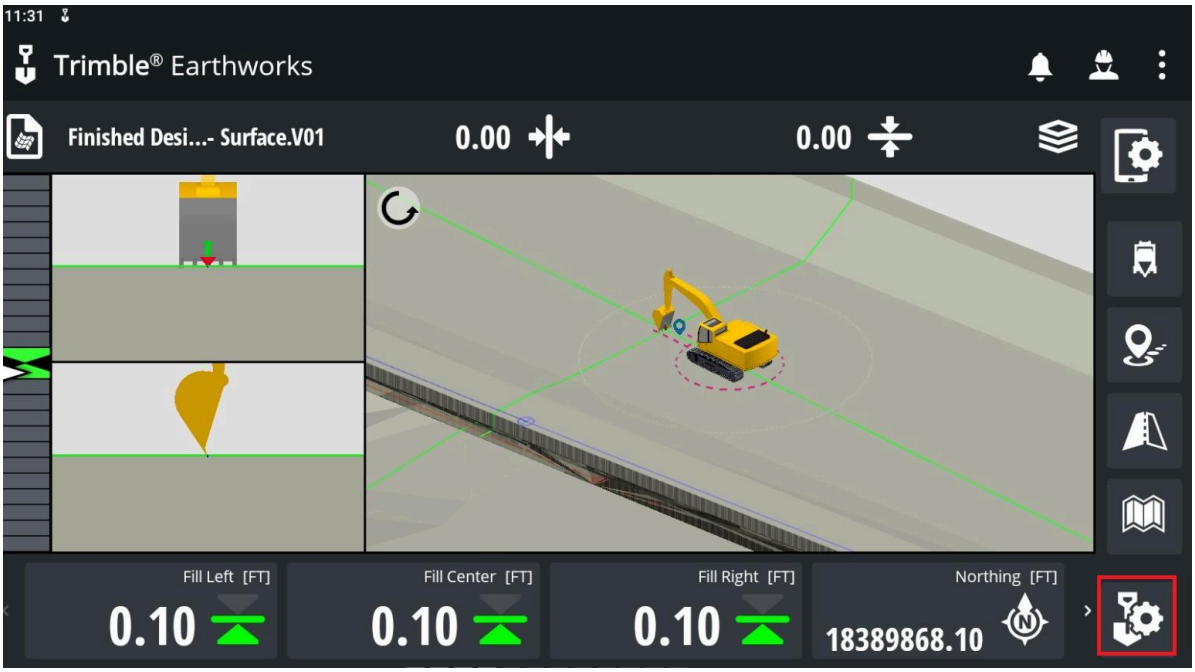

5. Select Record Point

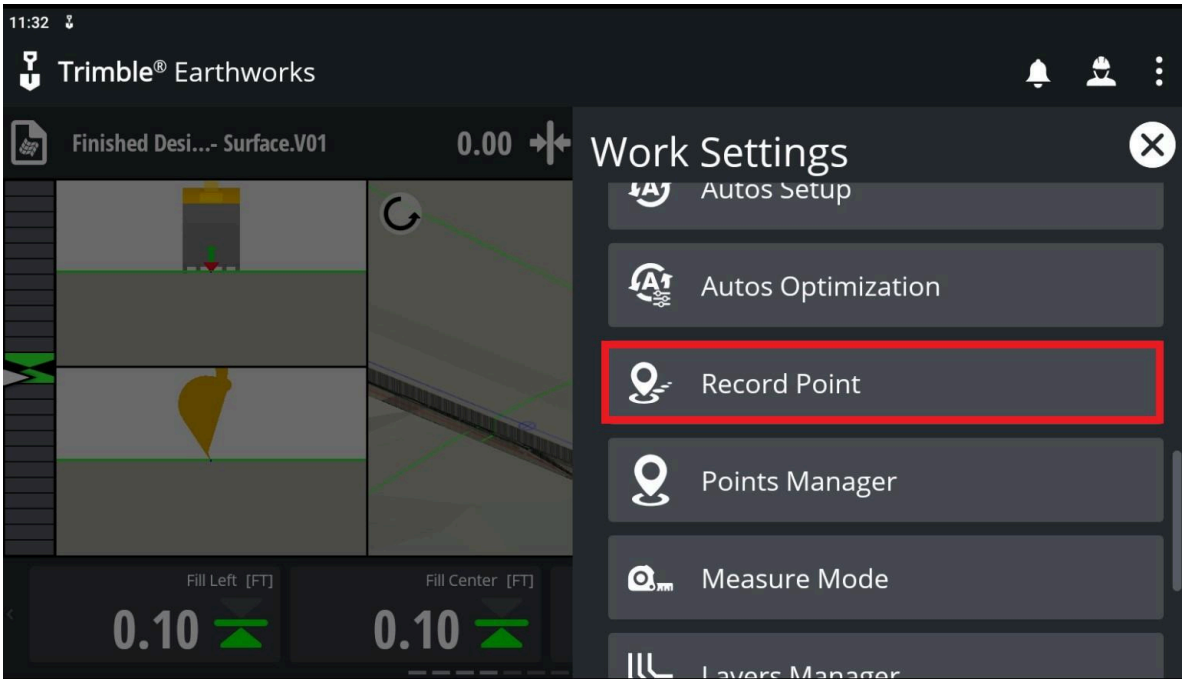

6. Name and Edit any of the available fields as needed:

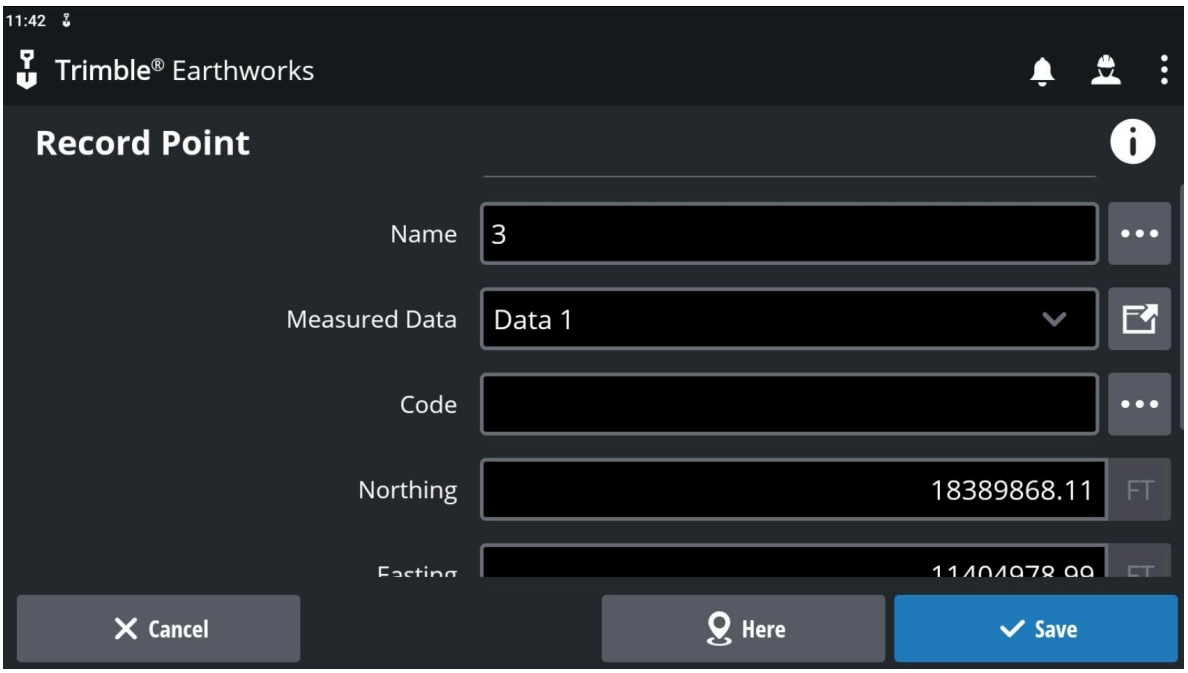

7. Tap Save to record the position of the attachment focus when you entered the Record Point screen. If your attachment focus point is not in the required position, exit the Record Point screen, position the attachment on the point you want to record and then re-enter the screen.
8. Repeat the steps 4 more times to have a total of 5 recorded points.

Review and Edit Point Information

9. It is possible to review and edit point information after they have been created by accessing the Point Manager menu within the Work Settings menu. Enter the Work Settings menu and navigate to Point Manager:

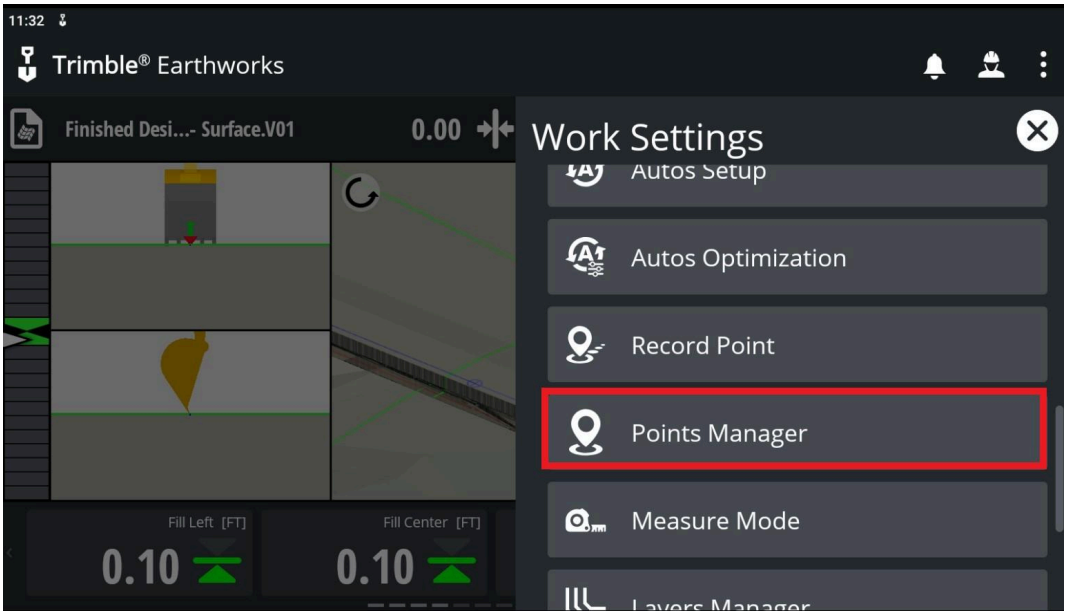

10. Select the point to be edited and select the 3 dot button. Then select edit. This will then allow the point information to be manipulated as needed:

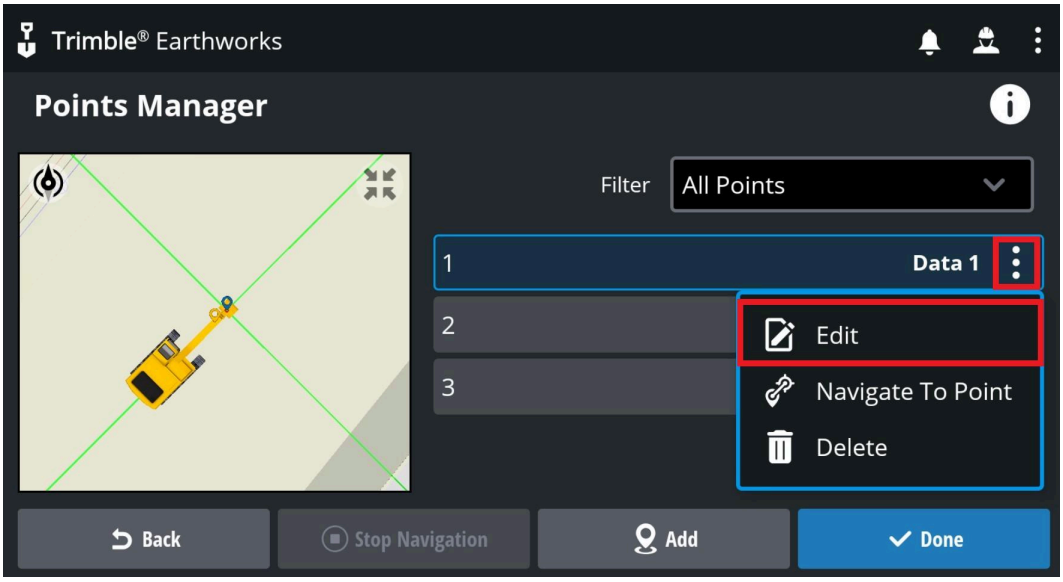

11. Edit a point and save the changes.

Navigate to Point

Earthworks has the functionality to be able to navigate the focus point back to a previously taken point. This is useful for finding previously marked points such as obstacles etc if needed. To accomplish this, re-enter the Work Settings menu and navigate to Points Manager. Select the 3 dot menu and select Navigate to Point:

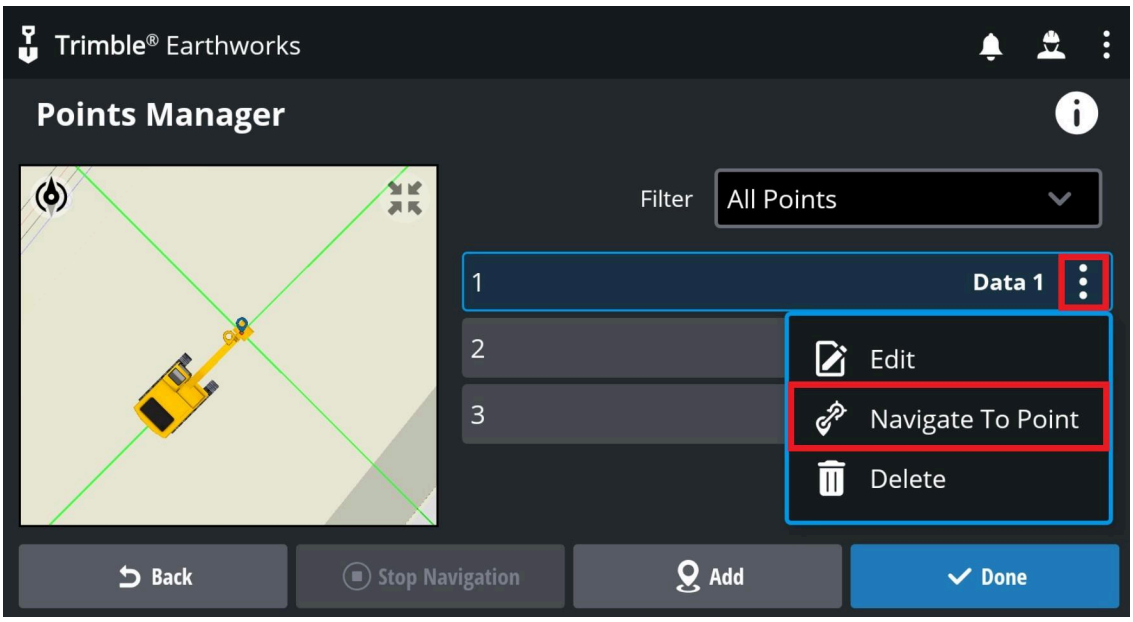

12. Once Navigate to Point is selected, Earthworks will return to the work screen and will provide a bearing to the point as well as Horizontal and Vertical distance. These distances are based on the focus point of the bucket or blade.

Note- The lightbars will not display Navigate to Point information

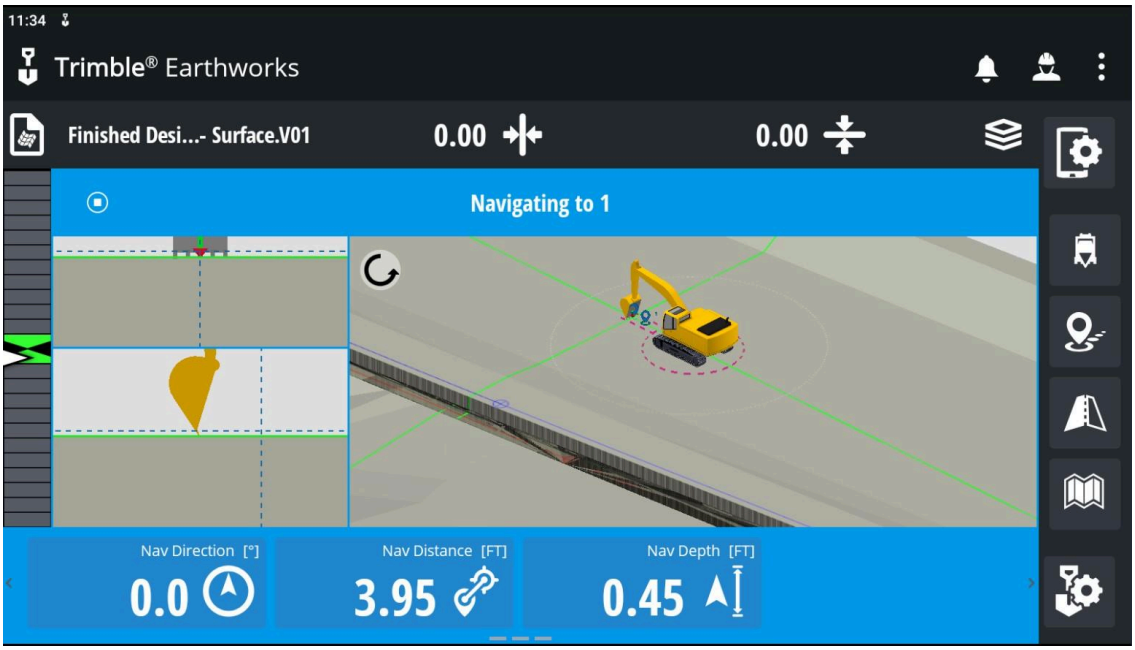

Points can be exported from Earthworks and will create a .PNT file within the Earthworks file system. This file is a .CSV in format and will be output in Metric units regardless of the unit settings on the machine.

Tips

- To create point manually, edit the Northing, Easting, Elevation fields
- You can navigate to a recorded point via the Navigate to Point screen
- Use the Overlays screen to configure the display of recorded points in the Work screen
- You can transfer recorded points to the office via a USB flash drive or Connected Community
- You can only delete a recorded point via the Web Interface